DISPLACED

27 Years of Eviction in San Francisco

A Scrollytelling Data Visualization

Course:	Data Visualization	University of San Francisco
Name:	[YOUR NAME HERE]
Email:	[YOUR EMAIL HERE]
GitHub:	https://github.com/MirandaCavalie/data-vis
Date:	April 3, 2026
Dataset:	SF OpenData — Eviction Notices (1997–2026)

This proposal describes an interactive scrollytelling visualization about San Francisco's eviction history — 48,112 records spanning nearly three decades, from the dot-com boom through the COVID pandemic. The project aims to make the invisible patterns of displacement visible through data and narrative.

1. Basic Information

Project Title	Displaced: 27 Years of Eviction in San Francisco
Name	[YOUR NAME HERE]
Email	[YOUR EMAIL HERE]
GitHub	https://github.com/MirandaCavalie/data-vis
Dataset Source	https://data.sfgov.org/Housing-and-Buildings/Eviction-Notices/5cei-gny5
Dataset Portal	https://datasf.org/opendata (approved source list)

2. Background and Motivation

San Francisco stands at the center of one of the most acute housing crises in the United States. With a housing stock constrained by geography, restrictive zoning, and decades of underbuilding, the city's rental market has been repeatedly destabilized by waves of economic transformation. The cost of living in San Francisco has risen faster than almost any other metropolitan area in the country, placing enormous pressure on long-term residents — particularly in historically working-class and immigrant neighborhoods. Eviction notices are the most visible symptom of this pressure: they represent moments when the forces of capital and displacement make direct contact with individual lives. Each record in this dataset is not just a data point — it is a household uprooted, a community eroded, a neighborhood changed forever.

The relationship between San Francisco's tech economy and displacement is well-documented but rarely visualized at scale across time. The city has experienced at least three major displacement waves in the past three decades: the dot-com boom of the late 1990s, when eviction filings peaked at nearly 2,917 notices in 1998; the 2010s tech surge following the IPOs of major companies headquartered in the Bay Area, when filings climbed back toward 2,000 per year by 2015-2016; and the post-pandemic recovery, which has seen filings return to pre-COVID levels even as the moratorium ended. The Ellis Act — a California law that allows landlords to evict all tenants and remove a property from the rental market — has been a particularly contentious mechanism, accounting for over 4,300 notices in the dataset and disproportionately affecting rent-controlled units. Understanding these patterns requires a visualization that treats time as a first-class narrative dimension.

As a Data Science student completing an exchange semester at the University of San Francisco, I am drawn to this dataset because it sits at the intersection of quantitative analysis and human impact. Data visualization has a unique power to make structural inequalities legible to a broad audience — not just researchers and policymakers, but residents, journalists, and advocates. The SF Eviction Notices dataset, spanning from January 1997 to April 2026, covers nearly three decades and multiple complete economic cycles, making it an ideal subject for a storytelling visualization. My goal is to use scrollytelling techniques — pairing animated, data-driven maps with narrative text — to guide viewers through the full arc of displacement in San Francisco, from the first dot-com boom to the COVID moratorium and its aftermath.

3. Project Objectives

This project is organized around four core research questions that the visualization will address:

Objective 1 — Temporal Trends

How have eviction patterns in San Francisco changed over the past 27+ years? Can we identify and annotate spikes linked to economic events such as the dot-com bust (2001), the 2008 financial crisis, the tech IPO boom (2013-2016), and the COVID moratorium (2020)? The visualization will animate a timeline of annual eviction counts and overlay key economic and policy events as annotations, allowing viewers to connect macro trends to specific moments in history.

Objective 2 — Geographic Displacement

Which neighborhoods have been most affected by evictions, and how has the geographic distribution of displacement shifted over time across San Francisco's 41 analysis neighborhoods? Using neighborhood-level choropleth and bubble maps, the visualization will reveal spatial concentrations — the Mission District's 5,499 total notices, Tenderloin's 3,482, and Sunset/Parkside's 2,930 — and show how the epicenter of displacement has shifted across economic cycles.

Objective 3 — Eviction Mechanisms

What are the most common legal reasons for eviction — Owner Move-In (22.1%), Breach of lease (21.7%), Nuisance (17.8%), Ellis Act Withdrawal (9%), Non-Payment (8%) — and how has the composition of eviction types evolved over time? A stacked area chart linked to the map will decompose eviction counts by reason for each year, revealing shifts in the preferred legal mechanisms landlords use to displace tenants in different eras.

Objective 4 — Policy Impact

Can we observe the measurable effect of key housing policies on eviction filing rates? Specifically, can the visualization demonstrate the COVID-19 eviction moratorium's dramatic effect (778 filings in 2020, a 29-year low), and the gradual return to pre-pandemic levels? Story annotations at key policy moments will contextualize the data and make policy impact tangible and visible, bridging the gap between advocacy and data evidence.

4. Data

Source

- **Dataset:** SF OpenData — Eviction Notices
  - URL: https://data.sfgov.org/Housing-and-Buildings/Eviction-Notices/5cei-gny5
  - Portal: https://datasf.org/opendata (on the course-approved source list)
  - Maintained by the San Francisco Rent Board; updated regularly

Dataset Description

The raw dataset contains **48,208 eviction notice records** filed with the San Francisco Rent Board, spanning **January 2, 1997 through April 1, 2026** — nearly 29 years of housing data. After cleaning (dropping 96 rows with missing neighborhood data), the working dataset contains **48,112 records** across **32 columns**. The dataset is publicly available and was downloaded on April 3, 2026.

Metric	Value
Total records (raw)	48,208
Total records (cleaned)	48,112
Date range	January 2, 1997 — April 1, 2026
Number of columns	32
Geographic granularity	Neighborhood, Supervisor District, Latitude/Longitude
Unique neighborhoods	41 (SF Analysis Boundaries)
Missing: Address	0.03%
Missing: Neighborhood	0.20%
Missing: Constraints Date	90.83% (not used in analysis)
Duplicate records	0
Peak year	1998 — 2,917 notices
Lowest year (moratorium)	2020 — 778 notices

Key Columns

Column	Type	Description
Eviction ID	String	Unique notice identifier
Address	String	Street address of evicted property
File Date	Date	Date notice was filed with Rent Board
Non Payment ... Good Samaritan Ends	Boolean (19 cols)	One column per eviction reason; TRUE if that reason applies
Supervisor District	Float	SF Board of Supervisors district (1-11)
Neighborhoods - Analysis Boundaries	String	Neighborhood name (41 categories)
Location	String	Lat/lon as text "(lat, lon)"

Key Statistics from Exploration

Eviction Reason	Count	% of Total
Owner Move-In	10,678	22.1%
Breach of Lease	10,443	21.7%
Nuisance	8,580	17.8%

Ellis Act Withdrawal	4,323	9.0%
Non-Payment	3,858	8.0%
Capital Improvement	2,109	4.4%
Late Payments	1,535	3.2%
Other Cause	1,421	2.9%

Top 8 Neighborhoods by Eviction Count

Neighborhood	Total Notices
Mission	5,499
Tenderloin	3,482
Sunset/Parkside	2,930
Outer Richmond	2,362
Castro/Upper Market	2,054
Lakeshore	2,026
South of Market	1,920
Nob Hill	1,761

5. Data Processing

Cleaning Steps Applied

Data quality was assessed using a custom Python exploration script (data_exploration.py). The following issues were identified and addressed:

- **Date parsing:** The *File Date* column was stored as a string (MM/DD/YYYY format). It was parsed to datetime using pd.to_datetime(). No nulls were found in this column (0 unparseable dates).
- **Missing neighborhood data:** 96 rows (0.20%) had no value in the *Neighborhoods - Analysis Boundaries* column. These were dropped since neighborhood is required for all geographic visualizations.
- **Missing address:** 14 rows (0.03%) had no street address. These were retained since neighborhood and date data were still present.
- **Constraints Date:** This column had 90.83% null values and is not used in any planned visualization — it will be dropped from the clean export.
- **Duplicate records:** Zero duplicate *Eviction ID* values were found; no deduplication was necessary.
- **Boolean columns:** The 19 eviction-reason columns were stored as string "true"/"false" values. These were converted to Python booleans using a mapping function for reliable downstream aggregation.

Derived Quantities

- **primary_reason:** For each record, the first Boolean reason column that equals TRUE is assigned as the primary eviction reason. This creates a single categorical field suitable for color encoding (19 possible values, collapsible to top-6 + "Other").
- **year / month columns:** Extracted from the parsed *File Date* for use as temporal dimensions in time-series aggregations.
- **Annual counts by neighborhood:** df.groupby(['year', 'Neighborhoods - Analysis Boundaries']).size() produces the primary data structure for the animated choropleth map.
- **Annual reason breakdown:** df.groupby(['year', 'primary_reason']).size() produces the stacked area chart data.
- **Rolling 12-month averages:** To smooth the time-series line chart, a rolling mean with a 12-month window will be applied on monthly aggregated data.
- **JSON export for D3.js:** The cleaned data will be exported in three pre-aggregated JSON files optimized for browser-side loading: (1) yearly totals by neighborhood, (2) yearly reason breakdown, (3) full record list with coordinates for individual dot maps.

Tools and Libraries

Tool / Library	Version	Purpose
Python	3.11	Core data processing language
pandas	2.x	Data loading, cleaning, groupby aggregation, date parsing
numpy	1.x	Array operations, rolling averages
matplotlib / seaborn	latest	Exploratory charts saved as PNGs during analysis phase

D3.js	v7	All browser-side visualizations (map, charts, animations)
Scrollama.js	latest	Scroll-event library for triggering D3 transitions
TopoJSON / GeoJSON	-	SF neighborhood boundary files from DataSF

6. Visualization Design — Five Design Sheet (FdS) Methodology

The visualization design follows the Five Design Sheet (FdS) methodology (Roberts, 2011). This structured approach begins with broad ideation, progresses through three alternative designs with explicit trade-off analysis, and converges on a final realization that synthesizes the best elements.

Sheet 1 — Ideas and Initial Brainstorm

Initial ideation produced the following candidate visualization types, grouped by suitability:

Strong candidates:

- Animated choropleth map of SF neighborhoods by eviction count — geographically grounded, temporal animation
- Stacked area chart of eviction reasons over time — shows compositional change clearly
- Scrollytelling narrative framework — pairs text + data for non-expert audiences
- Bubble map with bubble size = eviction count — alternative to choropleth for sparse neighborhoods
- Small-multiple maps by era — good for direct comparison across time periods

Filtered out:

- Sankey diagram of eviction flows — too abstract for geographic data
- Network graph of landlord-neighborhood relationships — requires data not in dataset
- Treemap of reasons — poor temporal encoding

The strongest ideas — animated map, stacked area, and scrollytelling — were carried forward into three distinct design alternatives.

Sheet 2 — Design Alternative A: Scrollytelling Timeline

Design A organizes the entire visualization as a vertical scroll-driven narrative. As the user scrolls down the page, the year counter advances and a central SF neighborhood map animates to show changing eviction density via a choropleth color scale. Text sections appear on the left side of the screen, with annotations marking key economic and policy events (dot-com bust, 2008 crisis, Ellis Act spikes, COVID moratorium). Below the map, a stacked area chart shows the composition of eviction reasons updated in sync with the scroll position. Users can also manually scrub the timeline slider or click play/pause to animate. **Pros:** low cognitive burden, natural narrative flow, suitable for general public. **Cons:** limited free exploration, complex scroll-trigger implementation, mobile UX challenges.

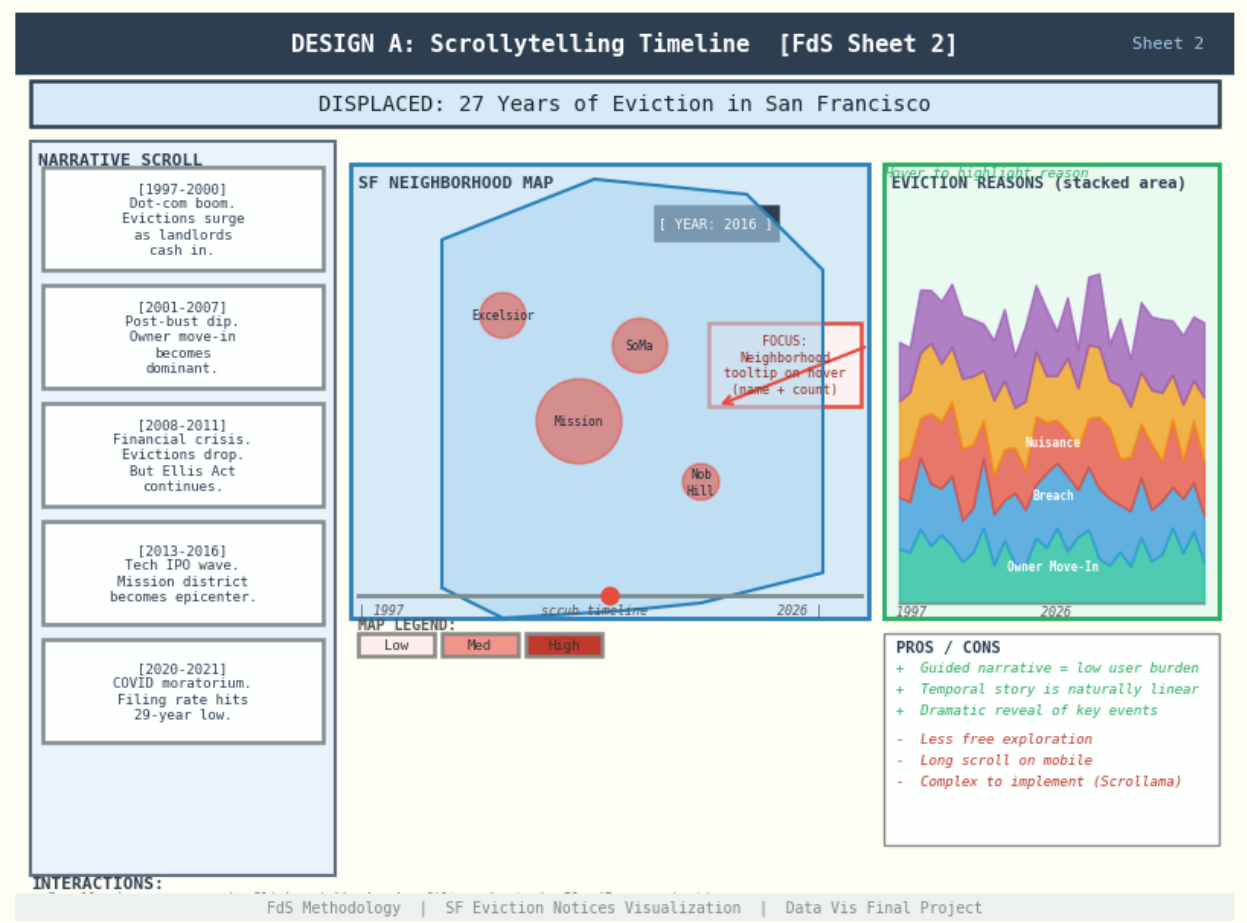

Figure 1 — FdS Sheet 2: Design Alternative A — Scrollytelling Timeline. Left: narrative text sections trigger year changes. Center: animated choropleth map. Right: stacked area chart synchronized to scroll position. Bottom: manual scrub slider.

Sheet 3 — Design Alternative B: Interactive Dashboard

Design B is a traditional multi-panel dashboard with four linked views: a choropleth map of SF neighborhoods, a time-series line chart with brush-to-filter, a horizontal bar chart of eviction reasons, and a ranked neighborhood table. All views are linked — clicking a neighborhood on the map filters all other views; brushing the timeline filters the map and charts. Dropdown menus allow filtering by neighborhood and eviction type. **Pros:** maximum flexibility for data exploration, familiar interface pattern for analysts. **Cons:** overwhelming for non-expert users, no guided narrative, user must independently discover insights without story context.

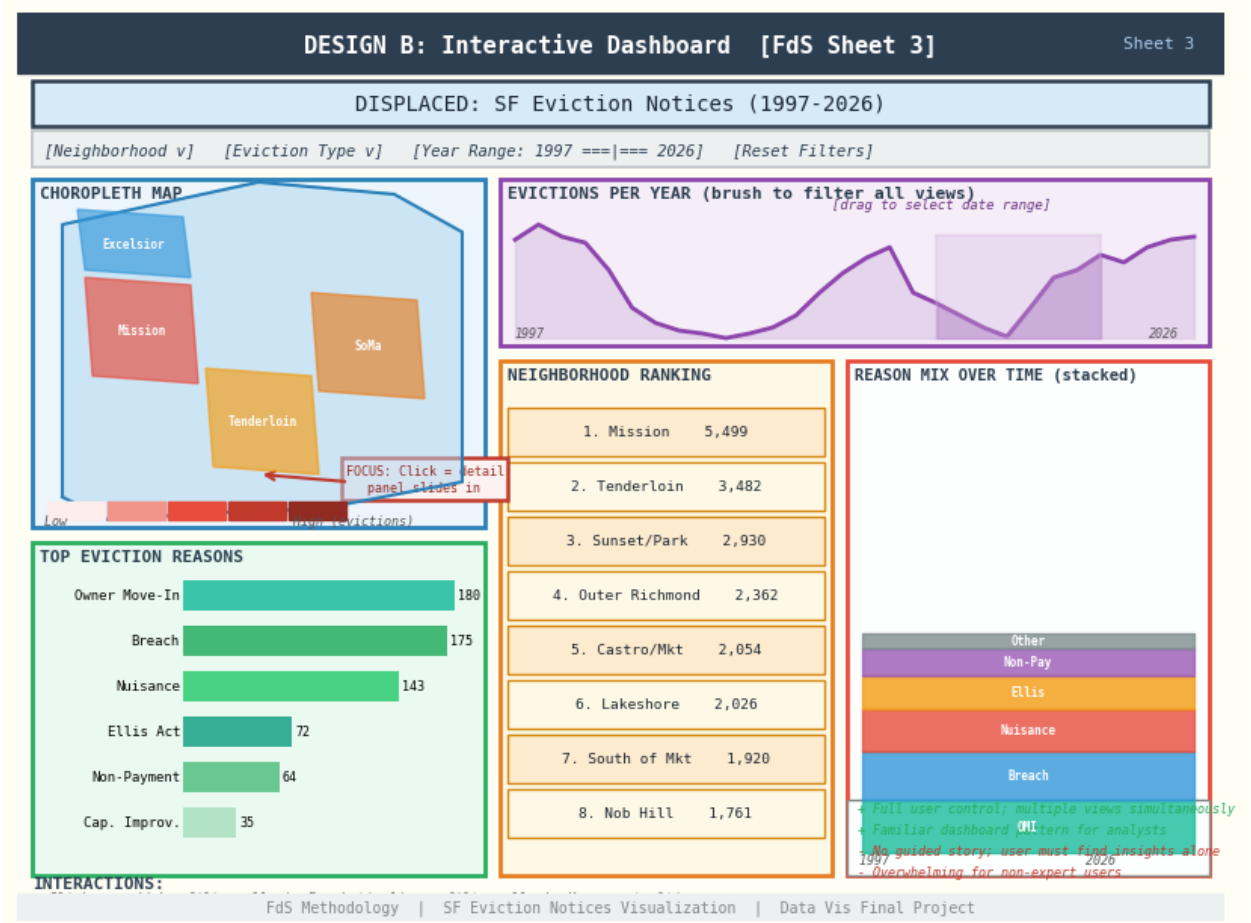

Figure 2 — FdS Sheet 3: Design Alternative B — Interactive Dashboard. Four linked views: choropleth map (top-left), brushable time-series (top-right), eviction reason bar chart (bottom-left), neighborhood ranking table (bottom-center), stacked area chart (bottom-right). All views respond to filters and clicks.

Sheet 4 — Design Alternative C: Neighborhood Stories (Small Multiples)

Design C presents six small-multiple SF maps side by side, one per historical era (pre-2000, 2001-2007, 2008-2012, 2013-2016, 2017-2019, 2020-2026). Each mini-map shows eviction density for that era, allowing direct visual comparison across time periods. Clicking a neighborhood on any map opens a detail panel showing that neighborhood's full eviction timeline, reason breakdown, and comparison to the city average. Navigation buttons allow stepping through eras. **Pros:** era comparison is intuitive, each map is self-contained and readable in isolation, suitable for print export. **Cons:** cannot show continuous temporal trends, small maps reduce spatial resolution, passive browsing experience with less narrative engagement.

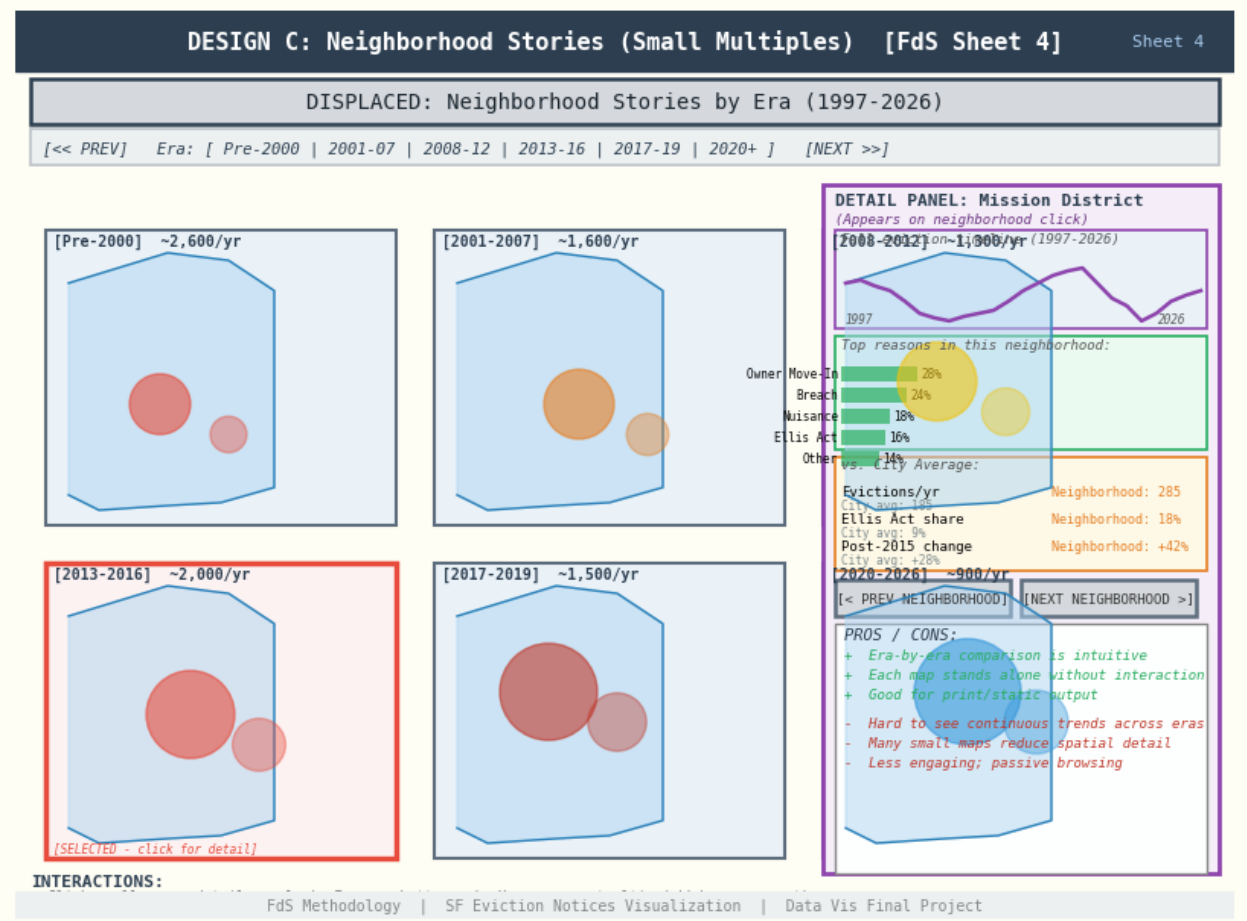

Figure 3 — FdS Sheet 4: Design Alternative C — Neighborhood Stories (Small Multiples). Six era maps displayed in a 2x3 grid. Clicking any map opens the detail panel (right) showing the neighborhood's full timeline, top reasons, and comparison to city average.

Sheet 5 — Final Realization: Scrollytelling + Exploration Hybrid

The final design combines the primary strengths of Design A (guided narrative) and Design B (free exploration) into a two-phase experience. **Phase 1: Guided Story** — The page opens in scrollytelling mode. Narrative text sections on the left panel advance the story year by year, triggering smooth D3 transitions on the central SF choropleth map. Five story sections correspond to major historical moments: the dot-com boom, post-bust recovery, the 2008 financial crisis, the 2013-2016 tech boom, and the COVID moratorium. At the bottom of the scroll, the user arrives at a call-to-action: "Explore the data yourself." **Phase 2: Interactive Exploration** — The second half of the page reveals the full interactive dashboard with linked views — the map, a brushable time-series, and a neighborhood detail panel. This hybrid gives casual readers a coherent narrative while rewarding curious users with deep exploration capabilities. The scrollytelling framework will use Scrollama.js, with D3 v7 handling all data binding and animated transitions.

Visual Encodings (with Justification)

Visual Variable	Mapped to	Justification
Color hue	Eviction reason category	Categorical distinction — Set2 palette (perceptually uniform, colorblind-frien
Color saturation / lightness	Eviction count on map	Sequential scale (Blues) — more intense = more evictions
Position (x-axis)	Time (year)	Time as horizontal dimension is universally intuitive
Position (y-axis)	Count or rate	Standard quantitative axis; pre-attentive and accurate
Size (bubble radius)	Eviction magnitude on map	Proportional encoding for optional bubble map mode
Geographic position	SF neighborhood boundaries	GeoJSON-projected spatial encoding — most natural for location data
Animation (temporal)	Year progression	Motion draws attention to change; year advances with scroll

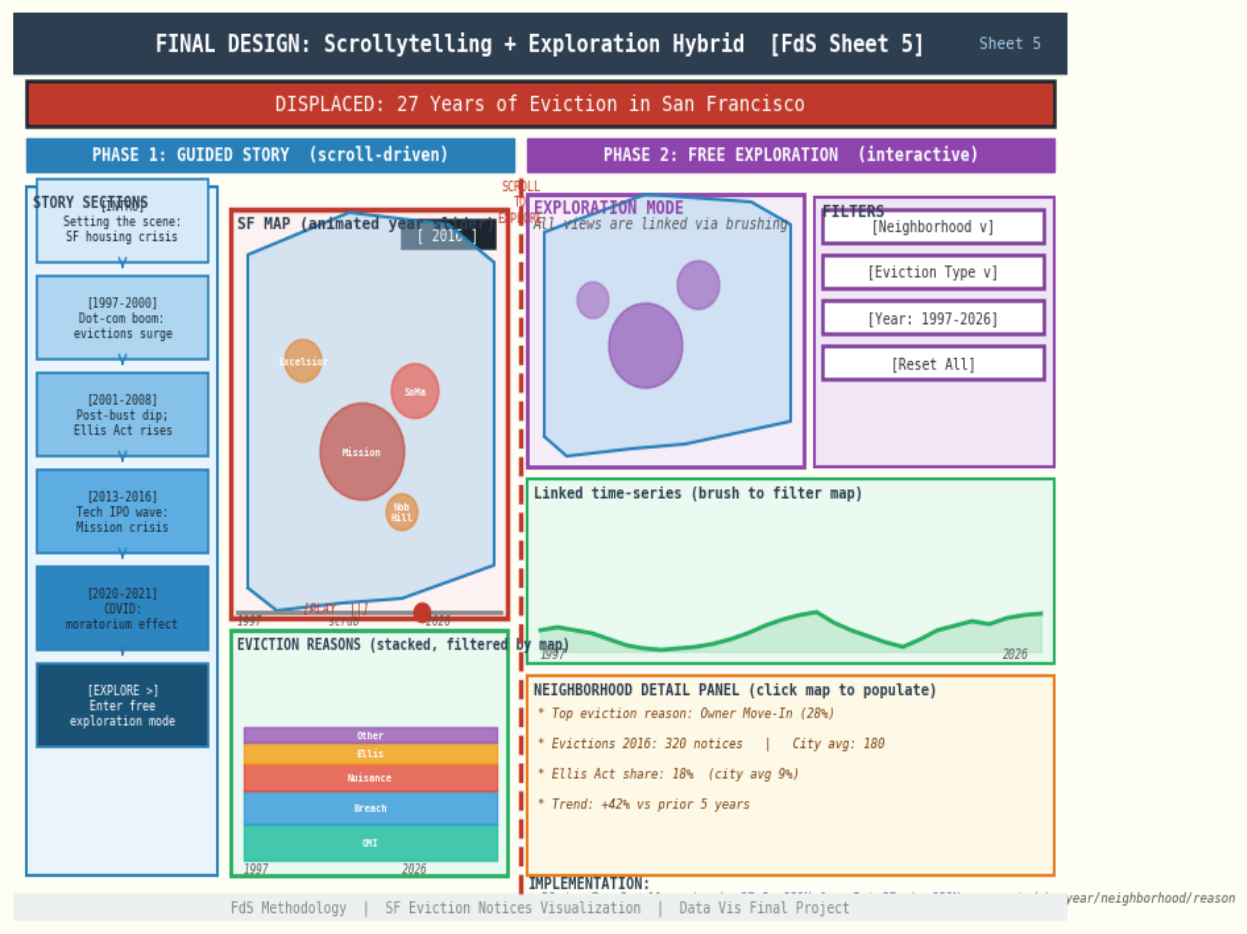

Figure 4 — FdS Sheet 5: Final Design — Scrollytelling + Exploration Hybrid. Left half (Phase 1): story sections drive scroll-synchronized map and stacked area chart. Right half (Phase 2): interactive exploration mode with linked views and neighborhood detail panel. Implementation: D3.js v7 + Scrollama.js + SF GeoJSON from DataSF.

7. Must-Have Features

Feature 1 — Animated Timeline Map

Addresses: Objectives 1 & 2 (Temporal Trends, Geographic Displacement)

- An animated choropleth map of SF's 41 neighborhoods that transitions smoothly between years (1997-2026) as the user scrolls through the story sections.
- Color intensity (Sequential Blues scale) encodes eviction count per neighborhood per year. The map uses D3's geographic projection (d3.geoMercator) bound to SF neighborhood GeoJSON from DataSF.
- A manual timeline scrubber below the map allows users to jump to any year, with a play/pause button for continuous animation. The current year is displayed as an overlay badge.
- Hovering over any neighborhood displays a tooltip with the neighborhood name, eviction count for the selected year, and the dominant eviction reason — satisfying Objectives 1 and 2 simultaneously.

Feature 2 — Eviction Reason Stacked Area Chart

Addresses: Objective 3 (Eviction Mechanisms)

- A stacked area chart showing the annual composition of eviction types (Owner Move-In, Breach, Nuisance, Ellis Act, Non-Payment, Other) from 1997 to 2026.
- The chart is synchronized with the map: scrolling advances the year marker, and clicking a neighborhood on the map filters the stacked area to show only that neighborhood's reason breakdown.
- Hovering over any band highlights that eviction reason across both the chart and the map (same-reason neighborhoods get a stroke highlight), creating a cross-view linking experience.
- The chart uses D3's d3.stack() and d3.area() functions with the Set2 color palette, ensuring colorblind accessibility and categorical distinctness across all 6+ reason categories.

Feature 3 — Scrollytelling Narrative Sections

Addresses: Objectives 1 & 4 (Temporal Trends, Policy Impact)

- Five narrative "chapters" implemented with Scrollama.js that trigger D3 transitions as the user scrolls: (1) Introduction, (2) Dot-com Boom 1997-2000, (3) Tech Surge 2013-2016, (4) COVID Moratorium 2020, (5) Post-COVID Recovery.
- Each chapter includes contextual text explaining the economic or policy event, with the map animating to the corresponding year range and key neighborhoods highlighted with stroke annotations.
- Policy-impact annotations appear as SVG text overlays on the map at key years — e.g., "SF Rent Board strengthens anti-harassment protections (2014)" and "COVID moratorium begins (March 2020)" — making policy cause-and-effect visible.
- The scrollytelling framework uses sticky positioning for the map/chart panel, so the visualization stays in view while text sections scroll by, creating a standard scrollytelling reading experience.

Feature 4 — Neighborhood Detail Panel

Addresses: Objectives 2 & 3 (Geographic Displacement, Eviction Mechanisms)

- Clicking any SF neighborhood on the map opens a slide-in detail panel showing: (a) the neighborhood's complete eviction history as a mini time-series line chart, (b) a horizontal bar chart of its top eviction reasons, and (c) a comparison table showing the neighborhood vs. the city-wide average for key metrics.
- The panel includes a "Neighborhood vs. City" comparison showing whether the selected area has a higher-than-average share of Ellis Act evictions, Owner Move-In evictions, or overall eviction rate.
- A "Previous / Next Neighborhood" navigation allows users in exploration mode to step through neighborhoods without returning to the map, enabling quick comparison of similar or adjacent neighborhoods.
- The panel is dismissible with a close button and does not obscure the map or time-series chart, maintaining visual context during exploration.

8. Optional Features

The following features are desirable but will only be implemented if time permits after the must-have features are complete and polished:

Demographic Overlay (Census join): Join ACS Census data (median household income, racial composition by tract) to the neighborhood-level eviction data. Overlay a secondary color dimension or toggle to show the correlation between displacement intensity and neighborhood demographics. This would require a separate data join step and a second color scale.

Address-Level Search: A search box where users can enter a San Francisco address and see a dot map of all eviction notices filed within a 0.25-mile radius, with a list of nearby notices sorted by date. Would require geocoding the address input and a spatial query against the lat/lon data already present in the dataset.

Animated Era Transitions: Smooth morphing animations between "era" snapshots of the map — not just year-by-year, but era-to-era with a 2-second crossfade and a brief pause to display the era label and key statistics. Requires pre-aggregating data by era and building interpolation transitions in D3.

Shareable URL State (Deep Linking): Encode the current visualization state (selected year, selected neighborhood, active filter) in the URL hash, so users can share a specific view directly. Implemented with JavaScript URL API and a state serializer.

Comparison Mode: A toggle that allows users to pin two neighborhoods side by side, showing their eviction histories on a split-panel view. Useful for comparing a historically high-eviction neighborhood (Mission) with a lower-impact area (Outer Sunset).

9. Project Schedule

The following schedule covers six weeks from April 7 through approximately May 18, 2026. Each week has 3-4 concrete deliverables with specific D3 components or data artifacts. The schedule prioritizes core infrastructure in weeks 1-2, feature development in weeks 3-4, and polish/testing in weeks 5-6.

Week 1 (Apr 7-13): Data Infrastructure + Project Scaffolding

– Finalize clean JSON data exports from Python: (1) evictions_by_year_neighborhood.json (annual counts per neighborhood), (2) evictions_by_year_reason.json (stacked area data), (3) evictions_full.json (all records with lat/lon for optional dot maps).

– Set up HTML/CSS/JS project structure: index.html with semantic layout, CSS variables for color palette, D3 v7 import via CDN, Scrollama.js import, base responsive grid layout using CSS Grid.

– Download and validate SF neighborhood GeoJSON from DataSF API; verify that neighborhood names in GeoJSON match the names in evictions_cleaned.csv exactly; create a mapping table for any discrepancies.

– Build the static SF neighborhood map using d3.geoPath() and d3.geoMercator(); verify all 41 neighborhood boundaries render correctly with placeholder gray fill; set up SVG viewBox and responsive container.

Week 2 (Apr 14-20): Choropleth Map + Year Filter

– Implement data binding for choropleth: load evictions_by_year_neighborhood.json, bind to GeoJSON features by neighborhood name, apply d3.scaleSequential with Blues color scale (range driven by global max eviction count).

– Build the year slider component: HTML range input + JavaScript event listener that triggers D3 transitions on the map's fill colors. Implement smooth color transition using d3.transition().duration(400).

– Add the Play/Pause animation button: setInterval-based year counter that increments the slider and triggers map transitions at 600ms intervals; stops automatically at 2026.

– Implement hover tooltip: on mouseover show neighborhood name, year, eviction count, and top reason using a fixed-position div with CSS transition for smooth appear/disappear.

Week 3 (Apr 21-27): Stacked Area Chart + Chart-Map Linking

– Build the stacked area chart using d3.stack(), d3.area(), and evictions_by_year_reason.json; implement the x-axis (years 1997-2026) and y-axis (count); apply Set2 color palette to the 6 reason bands.

– Implement chart-map linking: when a neighborhood is clicked on the map, filter the stacked area chart's data to show only that neighborhood's reason breakdown; animate the transition with d3.transition().duration(600).

– Add hover interaction on stacked area chart: mouseover a reason band highlights that band (opacity 1.0) and dims all others (opacity 0.3); simultaneously adds a stroke highlight to same-reason neighborhoods on the map.

– Begin Scrollama.js framework integration: install and configure Scrollama, define the five story step elements in HTML, set up the step enter/exit callbacks that will trigger D3 transitions in week 4.

Week 4 (Apr 28 - May 4): Scrollytelling Transitions + Neighborhood Detail Panel

– Implement all five scroll-triggered transitions: each story step callback animates the map to the target year range (e.g., step 2 transitions from year 1997 to 2000 over 2 seconds), updates the narrative text, and highlights relevant neighborhoods with an SVG ring annotation.

– Add policy/event SVG text annotations: overlaid at specific years on both the map and the stacked area chart; styled as red callout boxes with a small arrow pointer; appear via CSS fade-in triggered by Scrollama step entry.

– Build the neighborhood detail panel: slide-in panel with CSS transform translateX(); contains mini line chart (d3.line()), horizontal reason bar chart (d3.scaleBand()), and comparison table; populated dynamically on map click.

– Implement the Phase 2 "Explore" section at the bottom of the scroll: full-width layout with all views active and filter controls (neighborhood dropdown, year range slider, eviction type checkboxes) that all filter the underlying data.

Week 5 (May 5-11): Polish, Accessibility + Cross-Browser Testing

– Refine all visual transitions: ensure easing functions (d3.easeCubicInOut) are consistent across all animated elements; eliminate any visual glitches in color interpolation or geometry transitions; tune animation durations for narrative pacing.

– Add SVG text labels for map neighborhoods at high-eviction areas (Mission, Tenderloin, SoMa) at appropriate zoom levels; add a persistent color legend for the choropleth scale and stacked area chart; finalize tooltip styling.

– Accessibility pass: add ARIA labels to all interactive SVG elements; ensure color scheme passes WCAG AA contrast ratio for text overlays; test with keyboard navigation (Tab through interactive elements); verify Set2 palette readability for common color vision deficiencies.

– Cross-browser testing: verify layout and animations in Chrome, Firefox, Safari, and Edge; fix any flexbox/grid layout inconsistencies; test on 1280px, 1440px, and 1920px viewport widths; implement basic mobile responsiveness (single-column fallback below 768px).

Week 6 (May 12-18): Final Testing + Submission

– End-to-end user testing: walk through the full scrollytelling experience from title to exploration mode; verify all five narrative chapters trigger correctly; test all click, hover, and filter interactions in the exploration section; fix any remaining data binding or rendering bugs.

– Write project README.md: document the project structure, data sources, how to run locally (Python data processing + open index.html in browser), and attribution for all external libraries and data sources (D3.js, Scrollama.js, DataSF, SF GeoJSON).

– Final code cleanup: remove console.log statements, add inline code comments to complex D3 selections, organize CSS into logical sections, ensure JSON data files are minified for production deployment.

– Deploy to GitHub Pages (MirandaCavalie/data-vis repository); confirm the live URL works; prepare any required demo video or presentation slides; submit all deliverables before the course deadline.

References

Roberts, J. C. (2011). *Visualization Sketching — The Five Design-Sheet Methodology.* IEEE VIS 2011 Tutorial.

San Francisco Rent Board. (2026). *Eviction Notices Dataset.* SF OpenData. https://data.sfgov.org/Housing-and-Buildings/Eviction-Notices/5cei-gny5

DataSF. (2026). *Open Data Portal.* City and County of San Francisco. https://datasf.org/opendata

Bostock, M. et al. (2024). *D3.js — Data-Driven Documents (v7).* https://d3js.org

Russell, R. (2021). *Scrollama.js — Scrollytelling with IntersectionObserver.* https://github.com/russellsamora/scrollama

DataSF. (2026). *SF Find Neighborhoods — Analysis Boundaries GeoJSON.* https://data.sfgov.org/Geographic-Locations-and-Boundaries/SF-Find-Neighborhoods/pty2-tcw4